BHAVAN'S COLLEGE AUTONOMOUS, ANDHERI-WEST
PRACTICAL JOURNAL

Class: TYIT **Sem: VI** **Roll No.: TYIT40** **Date: 06-01-2026**

Course Name: Geographic Information System **Page no:**

Practical Number:- 04

Q] Working with Terrain Data attributes and hill shapes.

Steps:

- Start a new project.
- Go to Layer → Add Layer → Add Vector Layer
- Select "\GIS_Workshop\Practicals\Practical_04\A\Data\ne_10m_populated_places_simple.zip"

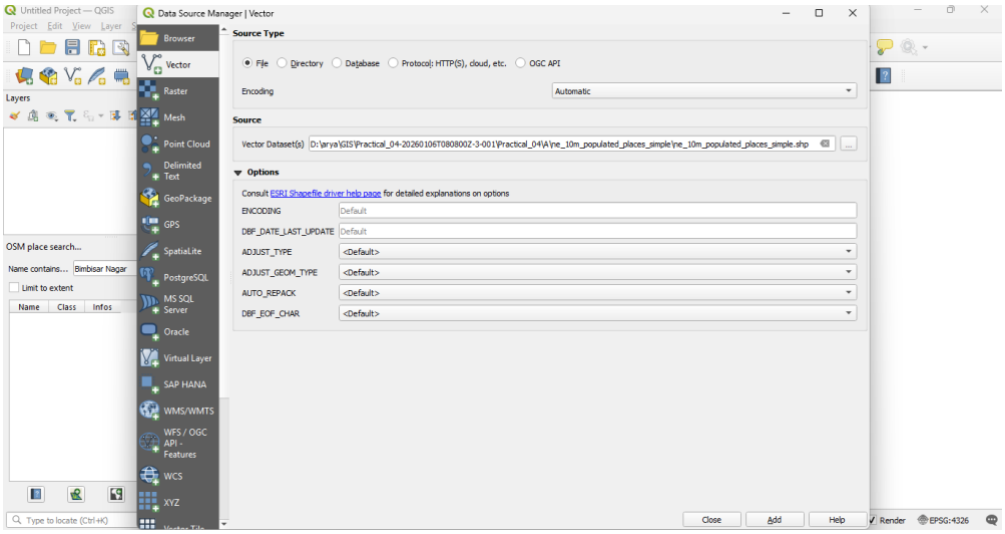

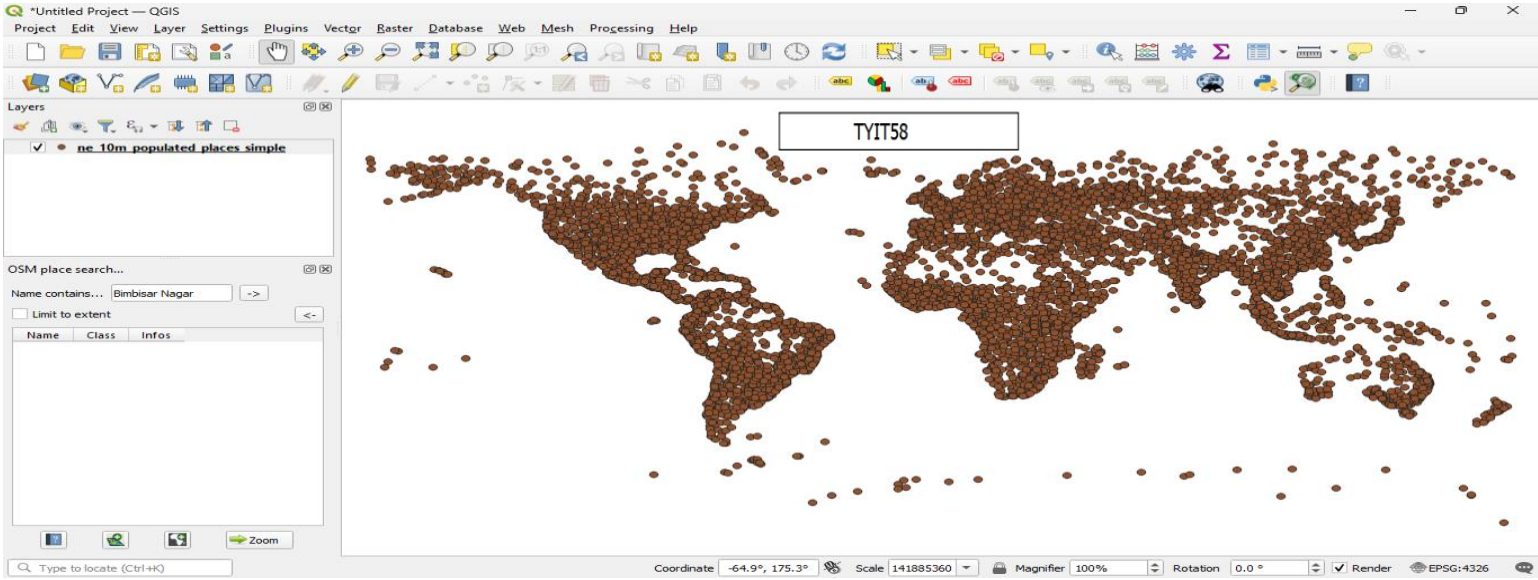

- Right click on Layer in Layer Panel → ***Open Attribute Table***.

Teacher's Signature

BHAVAN'S COLLEGE AUTONOMOUS, ANDHERI-WEST
PRACTICAL JOURNAL

Class: TYIT **Sem: VI** **Roll No.: TYIT40** **Date: 06-01-2026**

Course Name: Geographic Information System **Page no:**

Practical Number:- 04

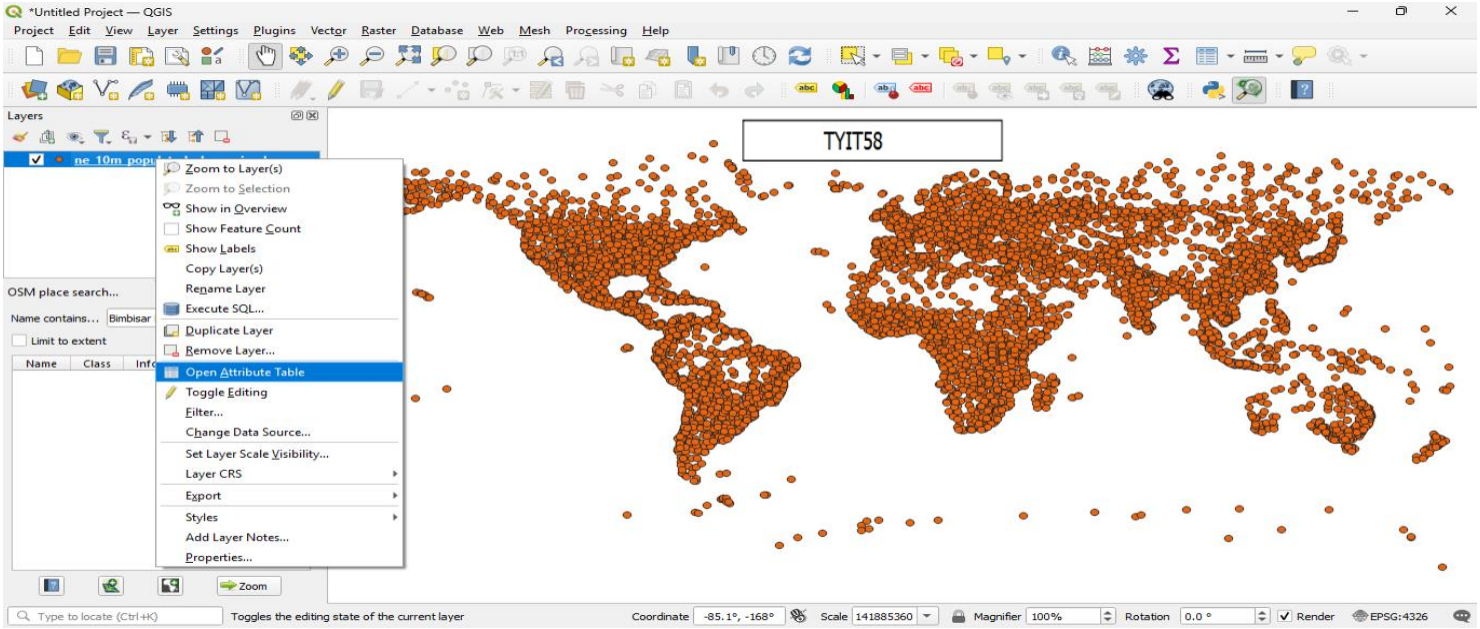

- Explore various attributes and their values in the Attribute table.
- To find the Place with ***maximum population click on "pop_max" file***

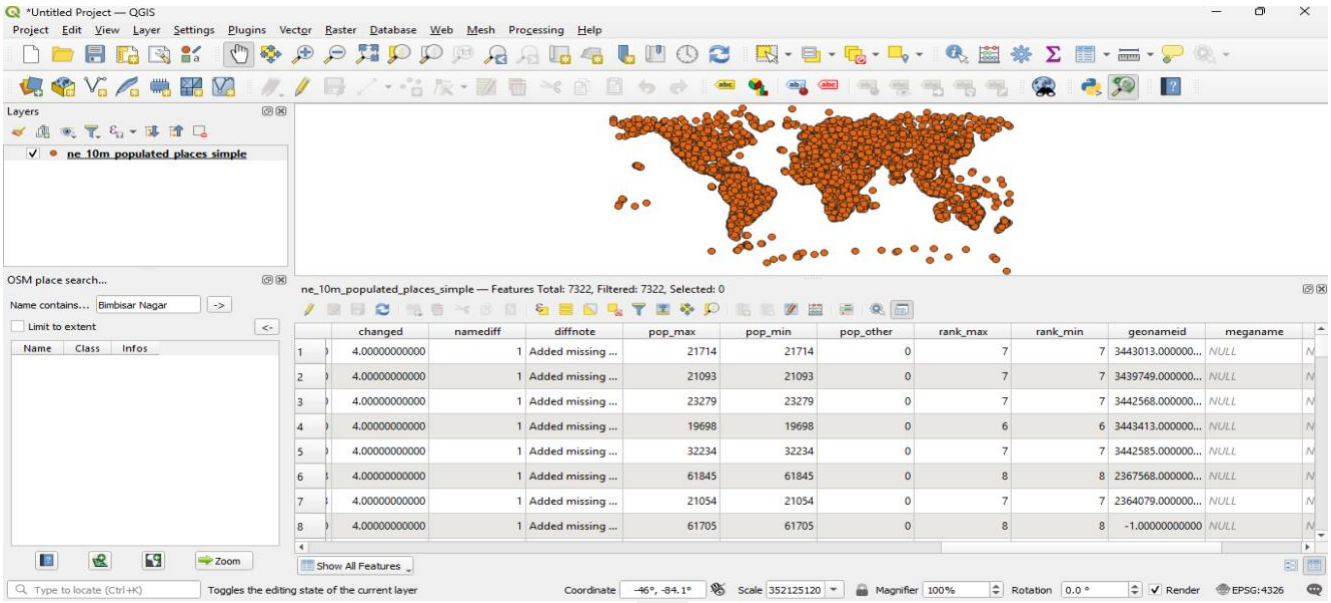

- On clicking the Select feature using expression button the following window will appear.
- Enter ***pop_max>100*** and pop_max button Select Features to get all the places with population between 100 and 10000.

Teacher's Signature

BHAVAN'S COLLEGE AUTONOMOUS, ANDHERI-WEST
PRACTICAL JOURNAL

Class: TYIT **Sem: VI** **Roll No.: TYIT40** **Date: 06-01-2026**

Course Name: Geographic Information System **Page no:**

Practical Number:- 04

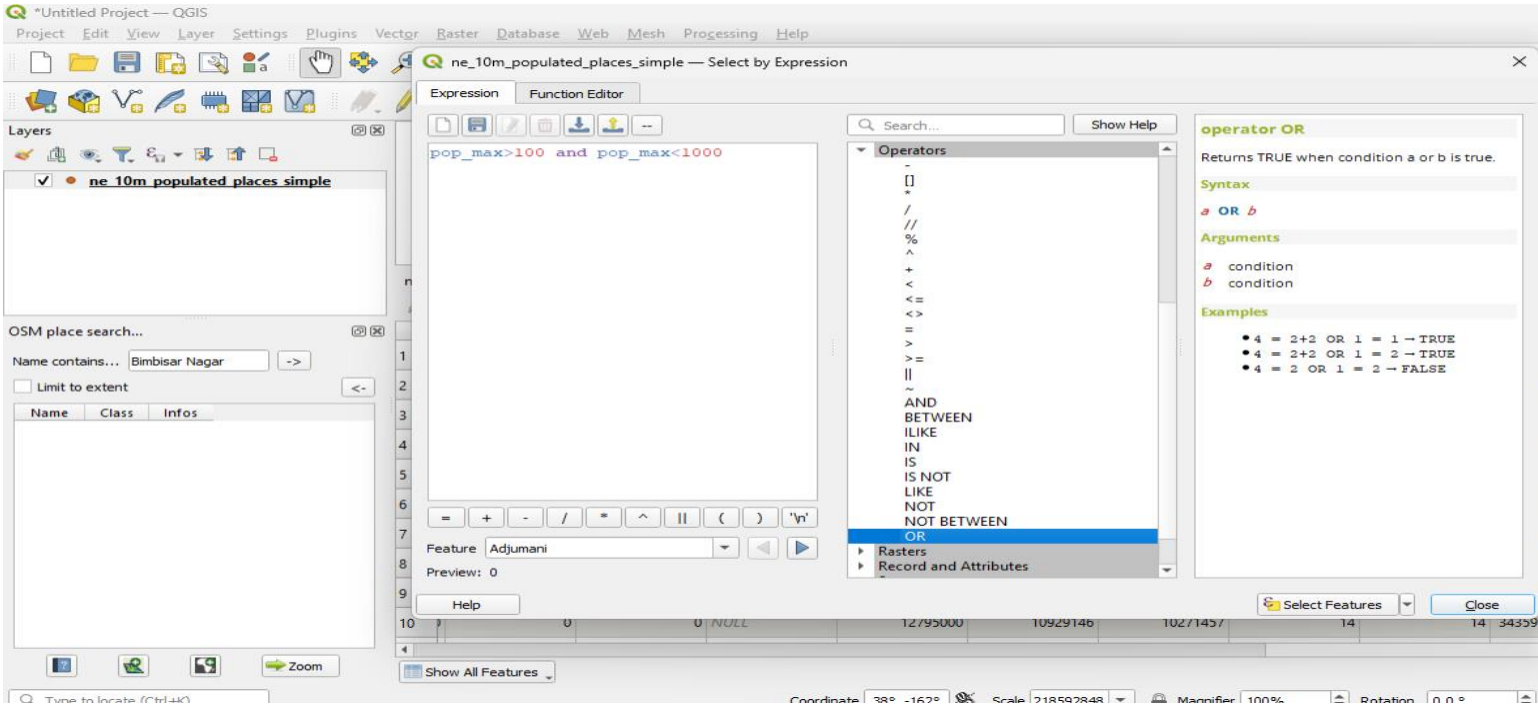

- The places matching the criteria will appear in different color.

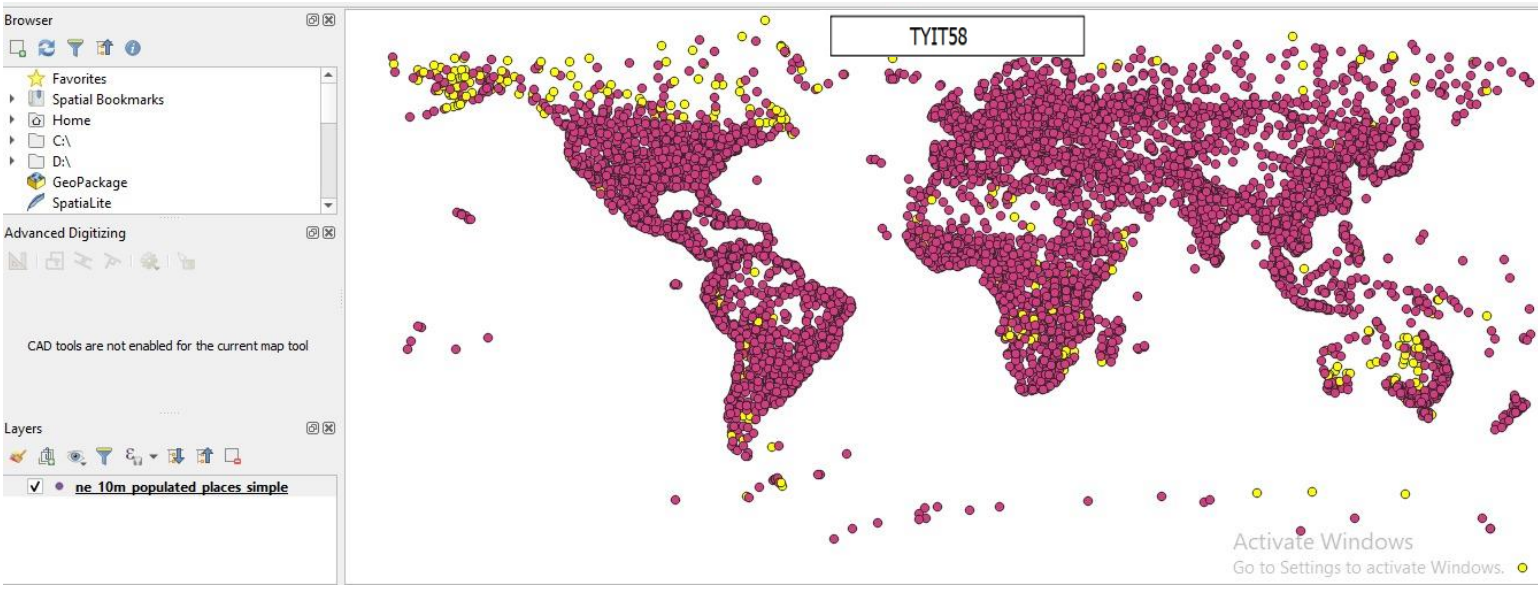

- Different queries can be performed using the dataset.
- Try this

Teacher's Signature

BHAVAN'S COLLEGE AUTONOMOUS, ANDHERI-WEST
PRACTICAL JOURNAL

Class: TYIT **Sem: VI** **Roll No.: TYIT40** **Date: 06-01-2026**

Course Name: Geographic Information System **Page no:**

Practical Number:- 04

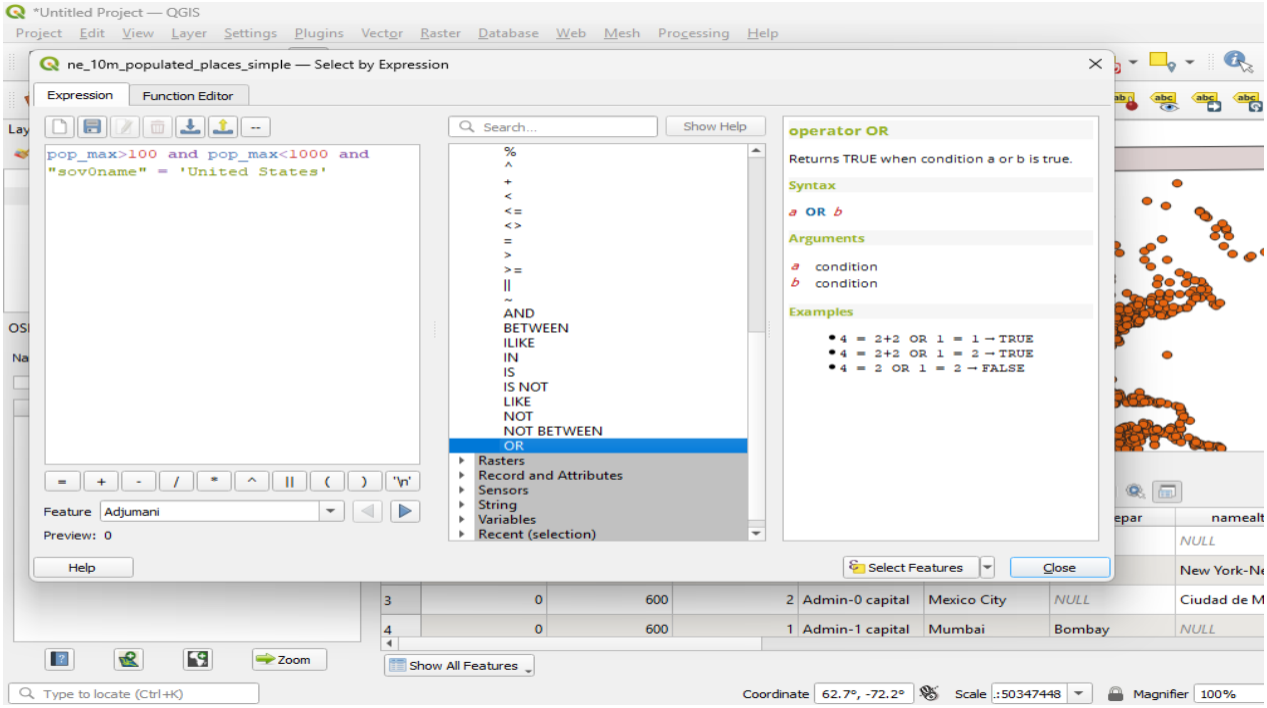

Terrain Data and Hill shade analysis:

A terrain dataset is a multiresolution, TIN-based surface built from measurements stored as features in a geodatabase. Terrain or elevation data is useful for many GIS Analysis like, to generate various products from elevation data such as contours, hill shade etc.

Steps:

Teacher's Signature

BHAVAN'S COLLEGE AUTONOMOUS, ANDHERI-WEST
PRACTICAL JOURNAL

Class: TYIT **Sem: VI** **Roll No.: TYIT40** **Date: 06-01-2026**

Course Name: Geographic Information System **Page no:**

Practical Number:- 04

- Go to Layer → Add Raster Layer → select "10n060e_20101117_gmted_mea300.tif", from Data folder

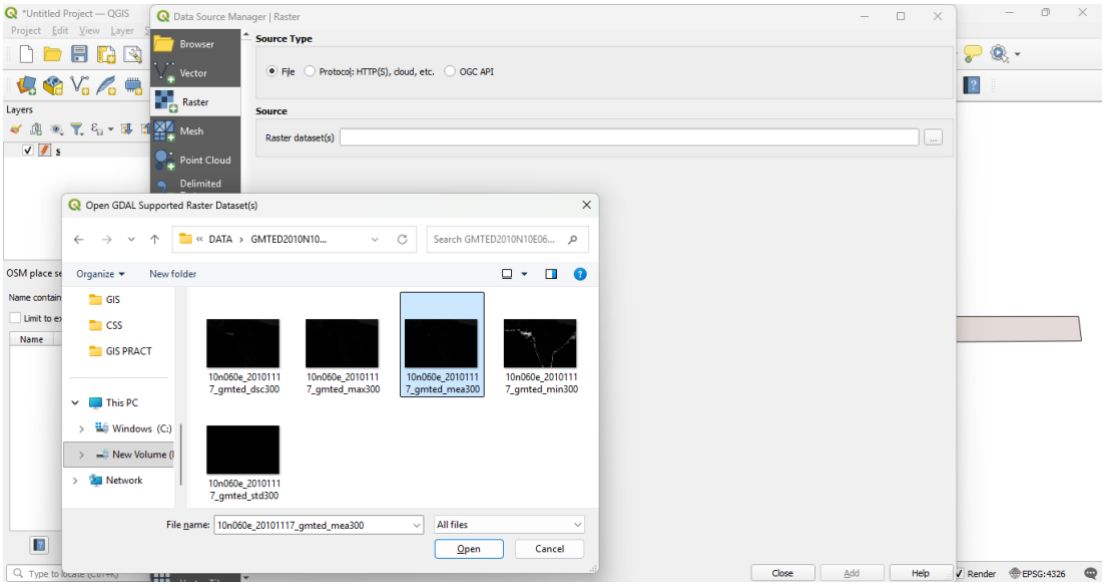

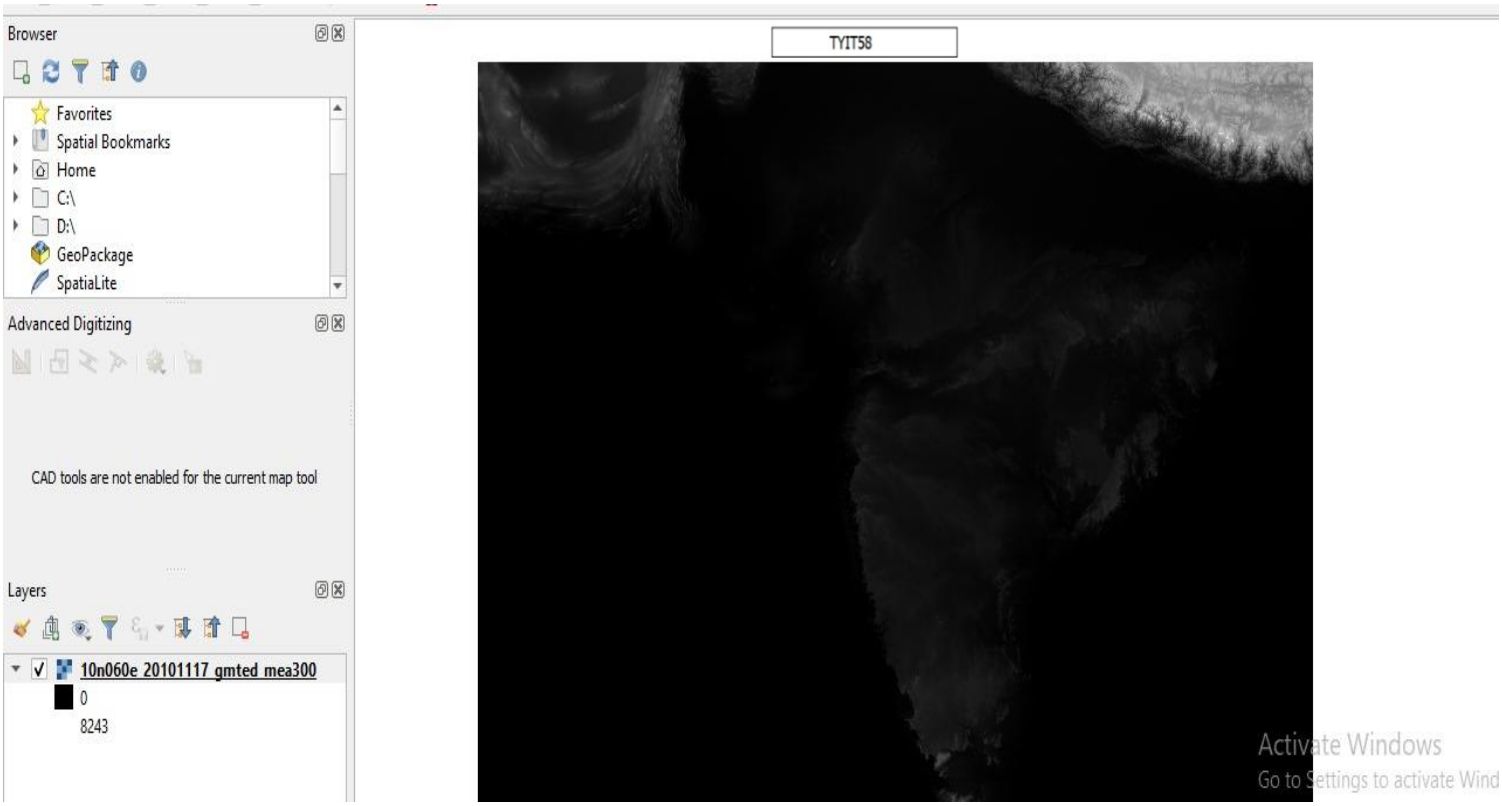

- Go to Raster → Extraction→ Clip Raster by Extent

Teacher's Signature

BHAVAN'S COLLEGE AUTONOMOUS, ANDHERI-WEST
PRACTICAL JOURNAL

Class: TYIT **Sem: VI** **Roll No.: TYIT40** **Date: 06-01-2026**

Course Name: Geographic Information System **Page no:**

Practical Number:- 04

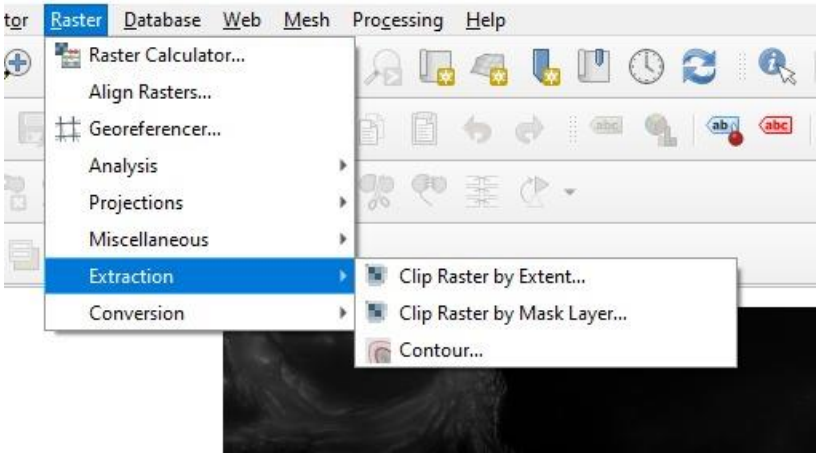

- Select the raster layer (if project contains multiple layers).
- Select the clipping area by selecting the option Use Canvas Extends if the visible part of map is to be selected or manually select an area on canvas by using Select Extent on Canvas.

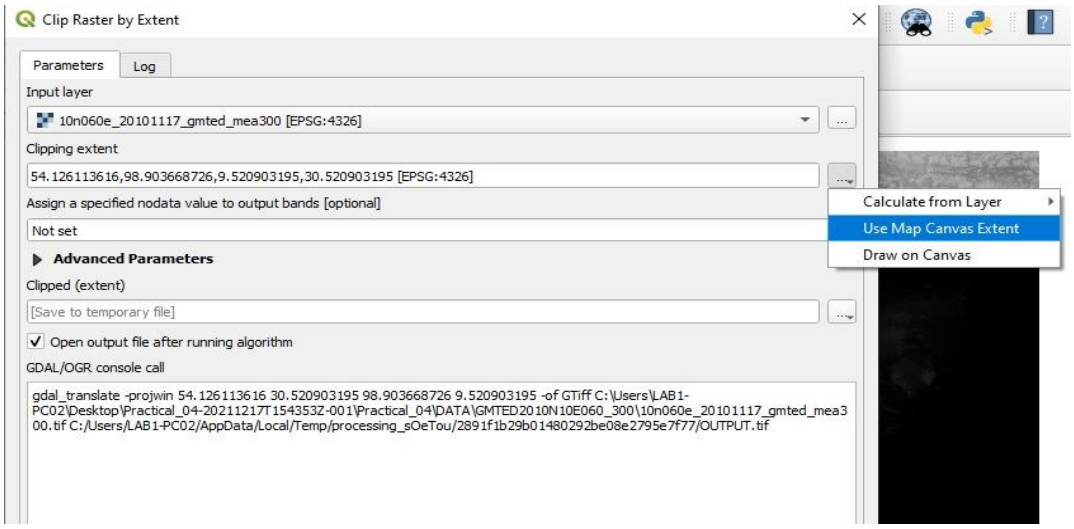

- Select the location and file name for storing clipped raster layer

Teacher's Signature

BHAVAN'S COLLEGE AUTONOMOUS, ANDHERI-WEST
PRACTICAL JOURNAL

Class: TYIT **Sem: VI** **Roll No.: TYIT40** **Date: 06-01-2026**

Course Name: Geographic Information System **Page no:**

Practical Number:- 04

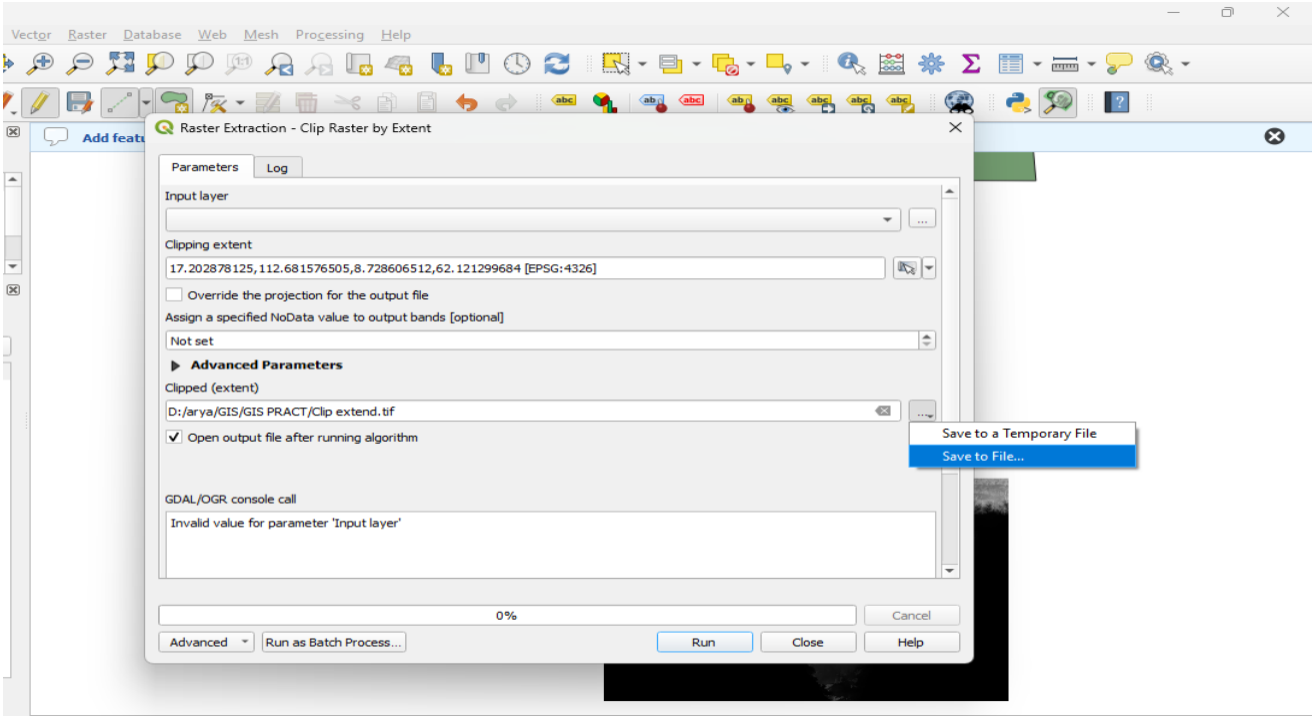

- Press RUN.
- Deselect the original layer and keep the clipped one.
- The Clipped raster layer is representing altitude are from 103 Meters.

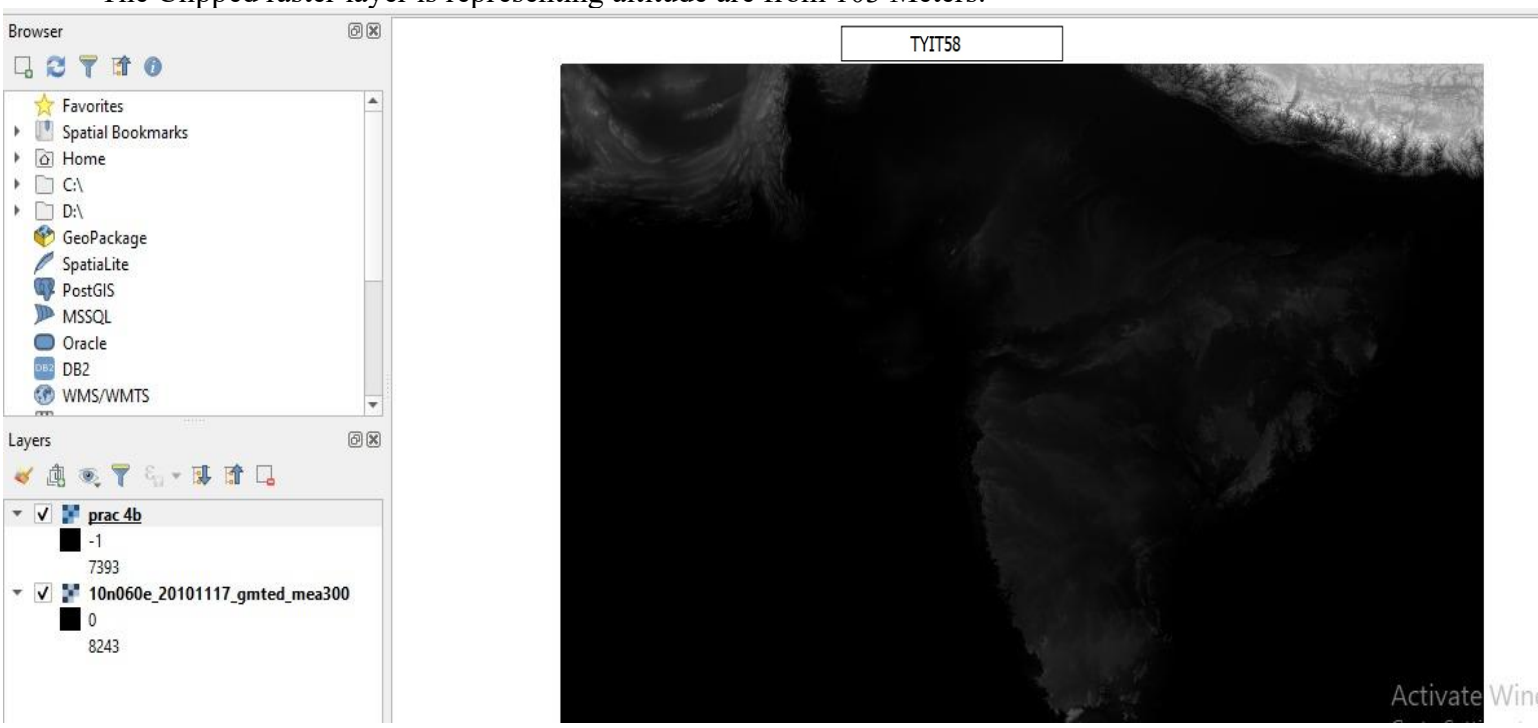

- Counter lines are the lines on a map joining points of equal height above or below sea level. A contour

Teacher's Signature

interval in surveying is the vertical distance or the difference in the elevation between the two contour lines in a topographical map

- To derive counter lines from given raster.
- Go to Raster → Extraction→ Contour

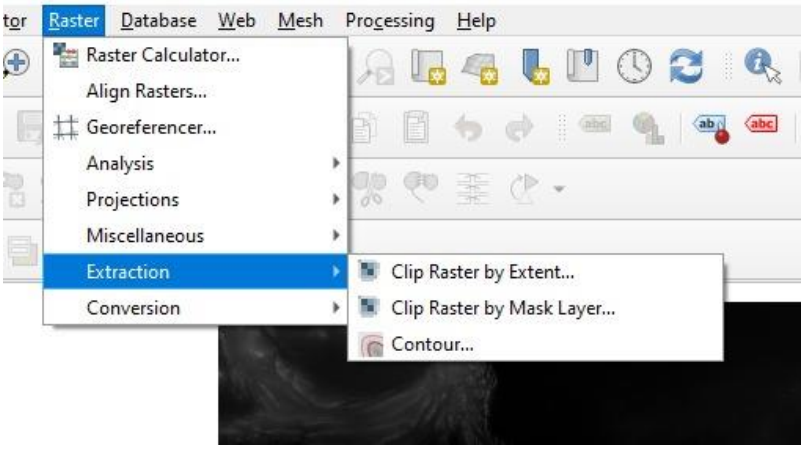

- The Contour configuration window will appear

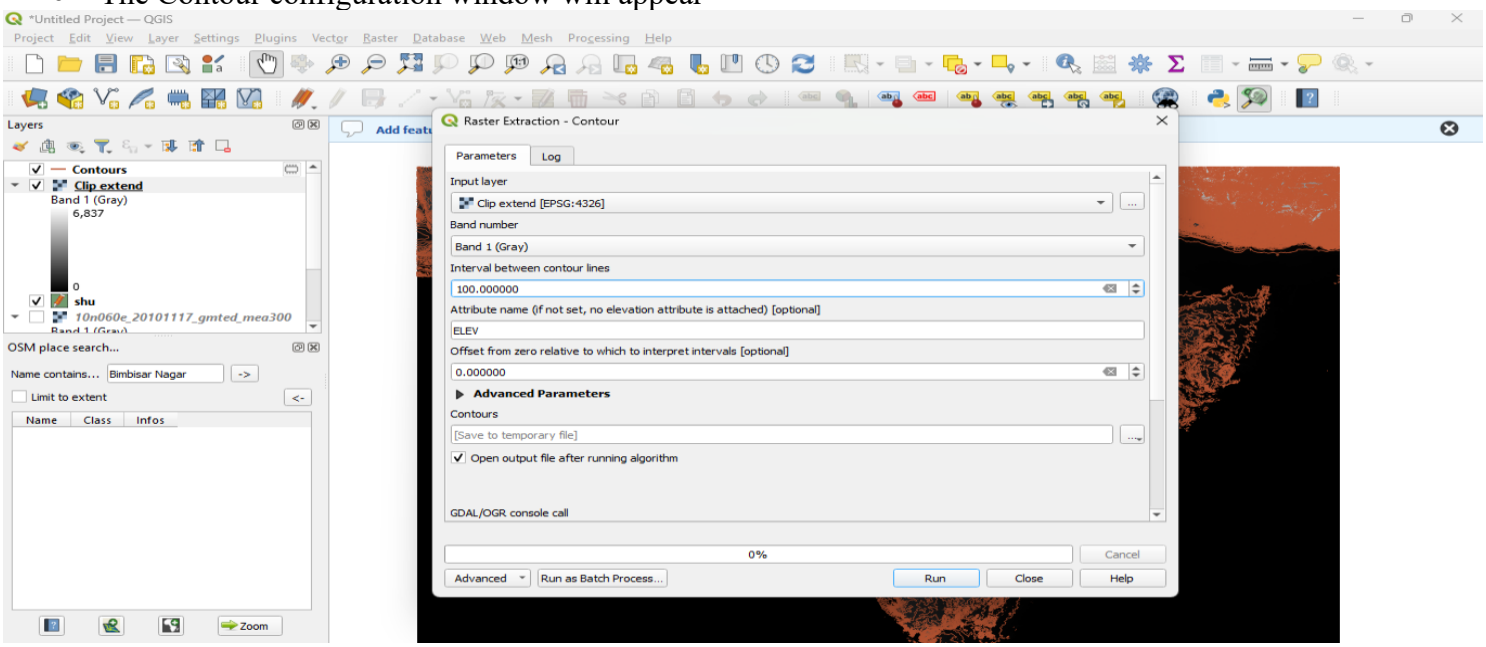

- Select the input raster layer name. Set contour interval 100.00 meters, select the output file name & location and check the option to add output file to project after processing.
- Press "RUN".
- The contour layer will appear like this

BHAVAN'S COLLEGE AUTONOMOUS, ANDHERI-WEST
PRACTICAL JOURNAL

Class: TYIT **Sem: VI** **Roll No.: TYIT40** **Date: 06-01-2026**

Course Name: Geographic Information System **Page no:**

Practical Number:- 04

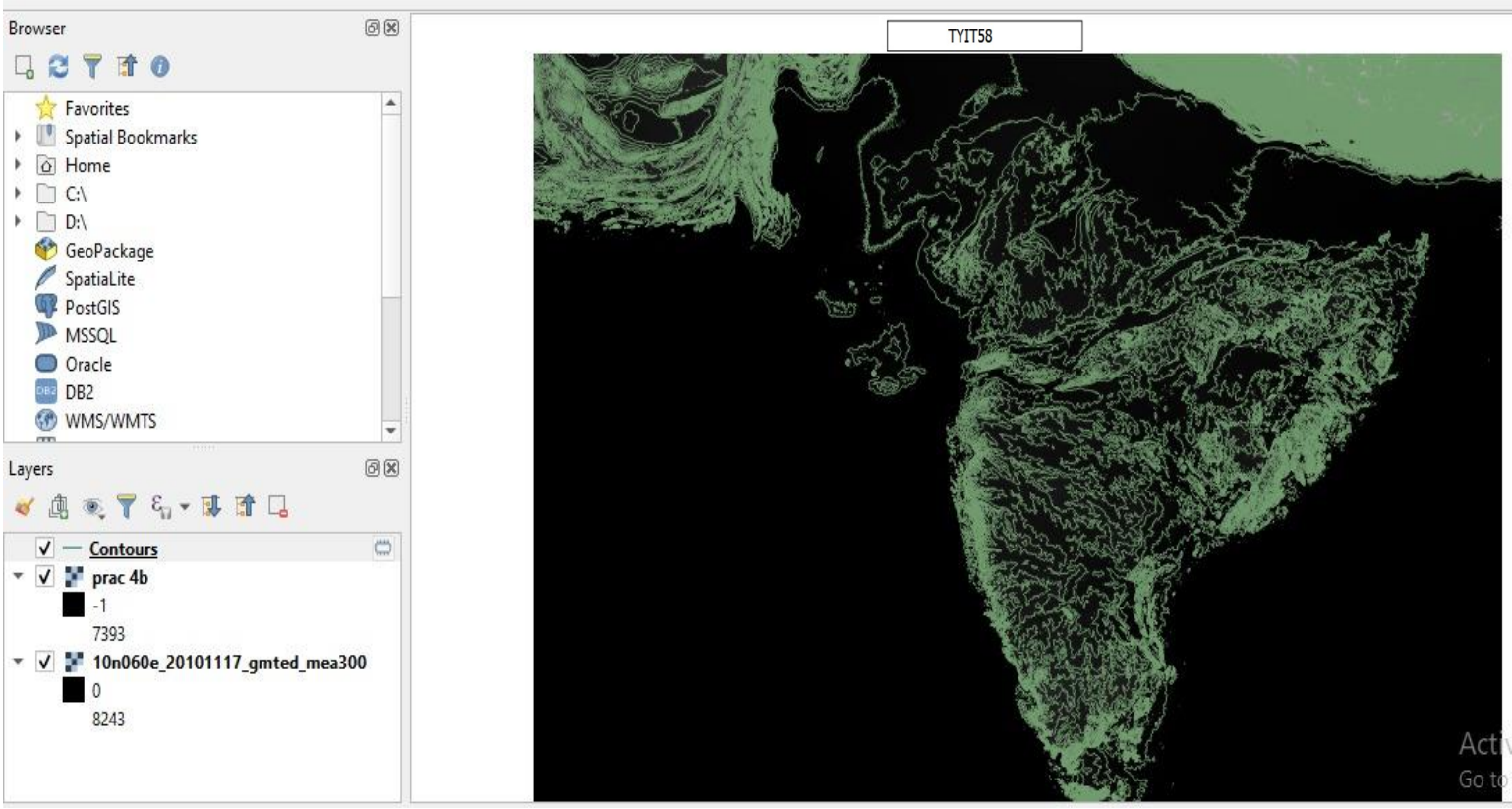

- Go to properties of Contours -> Labels -> Single Labels -> Change the color blue -> Change the size to required tables.

- The Final Map will look like this

Teacher's Signature

BHAVAN'S COLLEGE AUTONOMOUS, ANDHERI-WEST
PRACTICAL JOURNAL

Class: TYIT **Sem: VI** **Roll No.: TYIT40** **Date: 06-01-2026**

Course Name: Geographic Information System **Page no:**

Practical Number:- 04

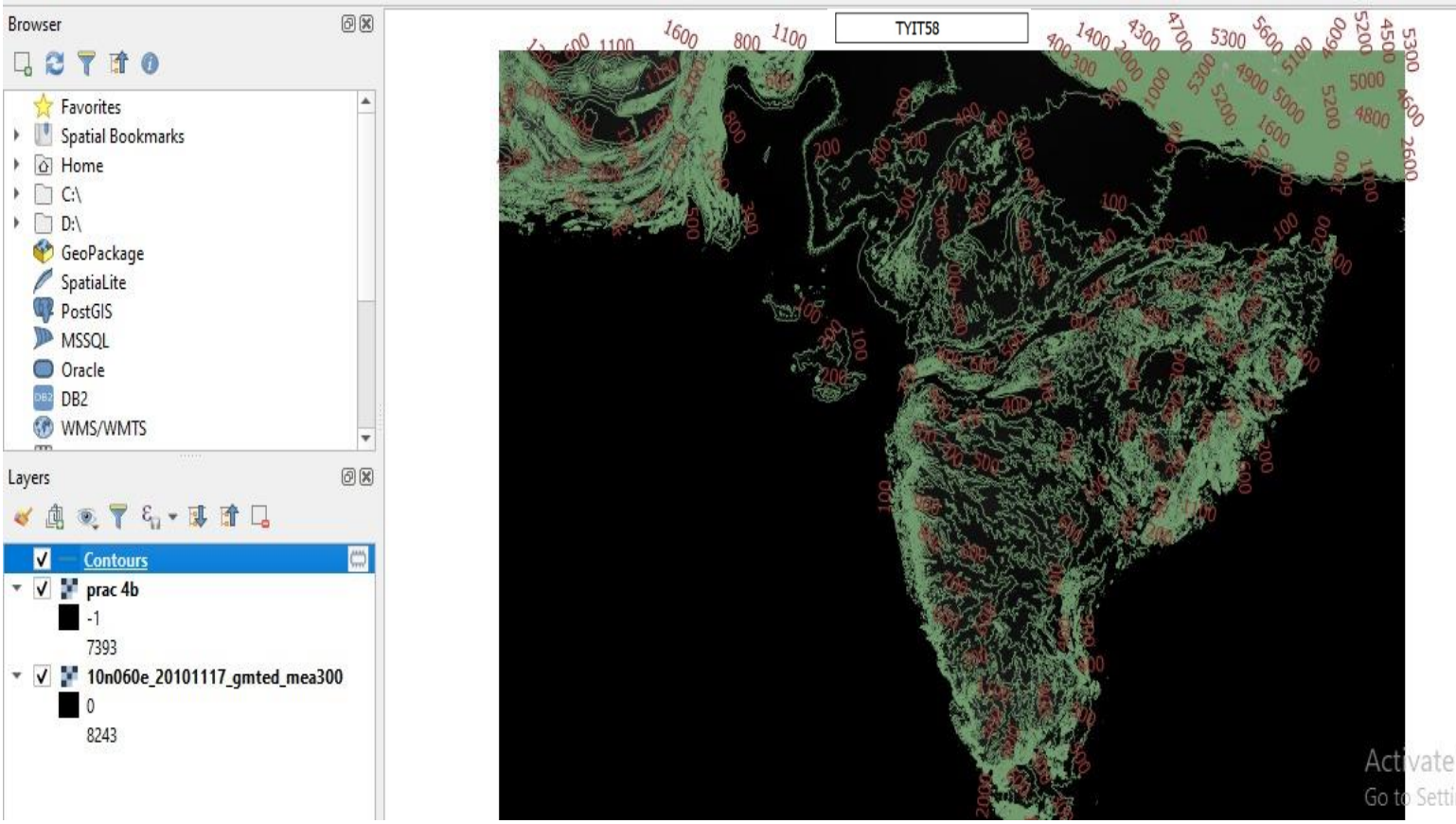

What is a Hillshade?
A Hillshade is a grayscale 3D representation of the surface, showing the topographical shape of hills and mountains using shading (levels of gray) on a map, just to indicate relative slopes, mountain ridges, not absolute height.

Steps:

- For Hill Shade surface analysis.
- Go to Plugin → Install Georeferenced GADL.
- After successful installation of plugin Go to Raster → Analysis → Hill Shade

Teacher's Signature

BHAVAN'S COLLEGE AUTONOMOUS, ANDHERI-WEST
PRACTICAL JOURNAL

Class: TYIT **Sem: VI** **Roll No.: TYIT40** **Date: 06-01-2026**

Course Name: Geographic Information System **Page no:**

Practical Number:- 04

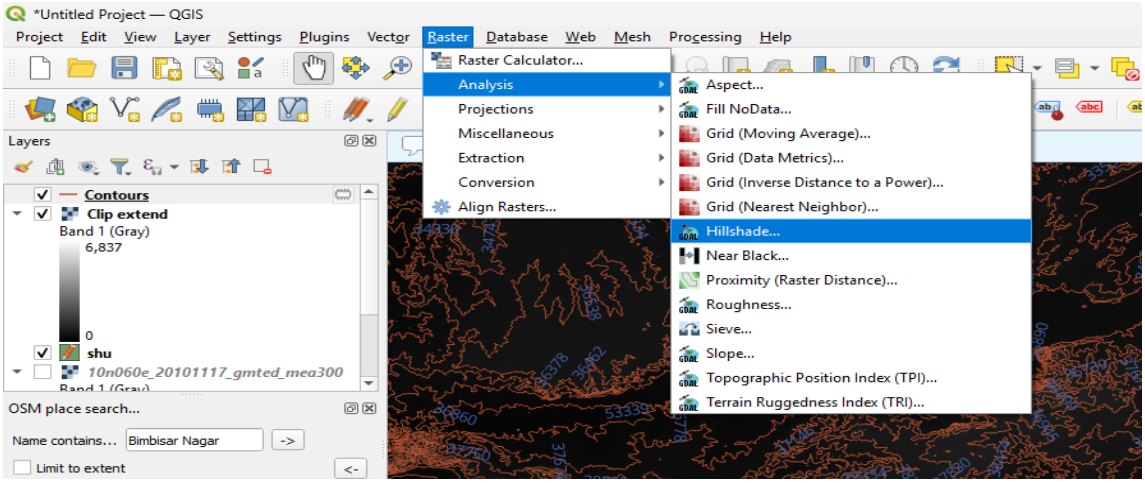

- Select the input raster layer, select file name and location for storing Hill Shade output file. Select the input layer as the clip extend that we created.

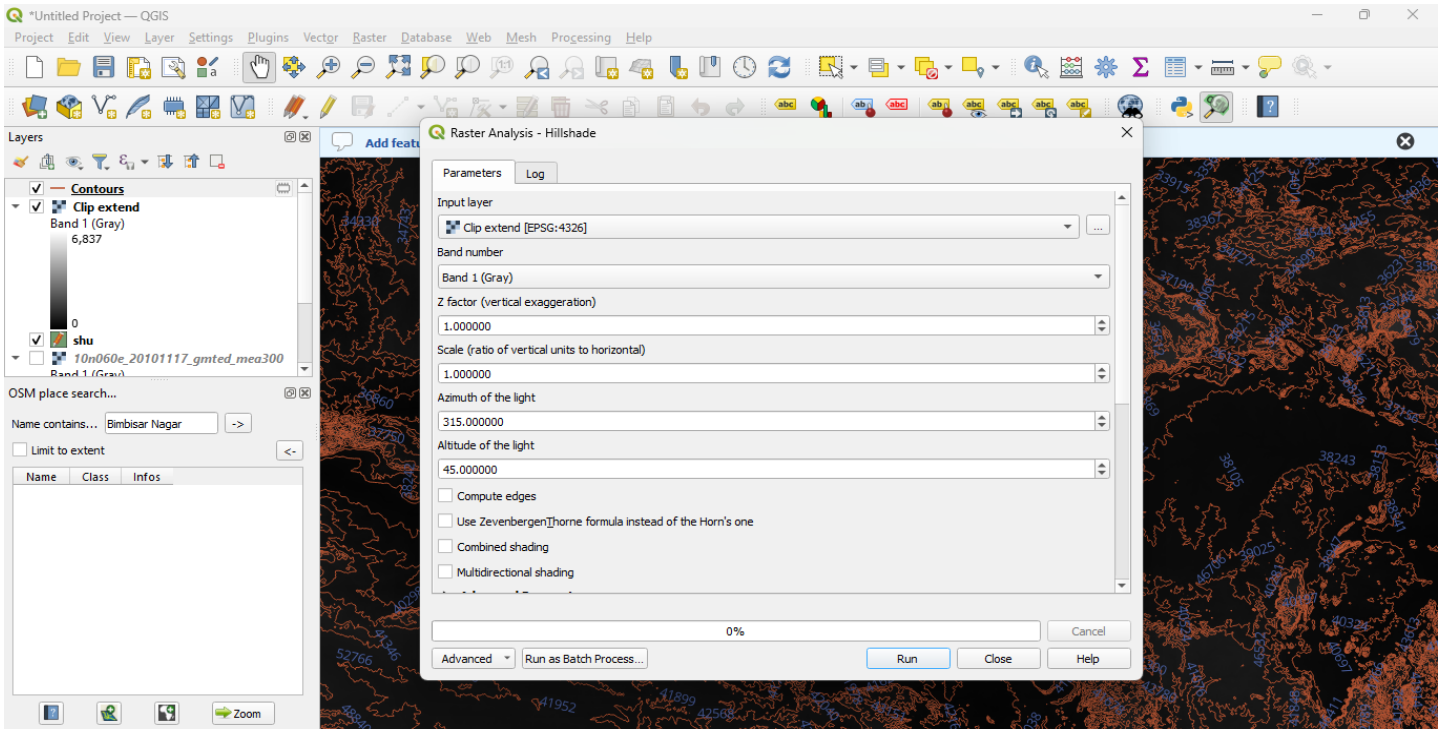

- Press "RUN" and Close the Hill Shape Dialog window.
- After Raster styling the Output will appear like this.

Teacher's Signature

BHAVAN'S COLLEGE AUTONOMOUS, ANDHERI-WEST
PRACTICAL JOURNAL

Class: TYIT **Sem: VI** **Roll No.: TYIT40** **Date: 06-01-2026**

Course Name: Geographic Information System **Page no:**

Practical Number:- 04

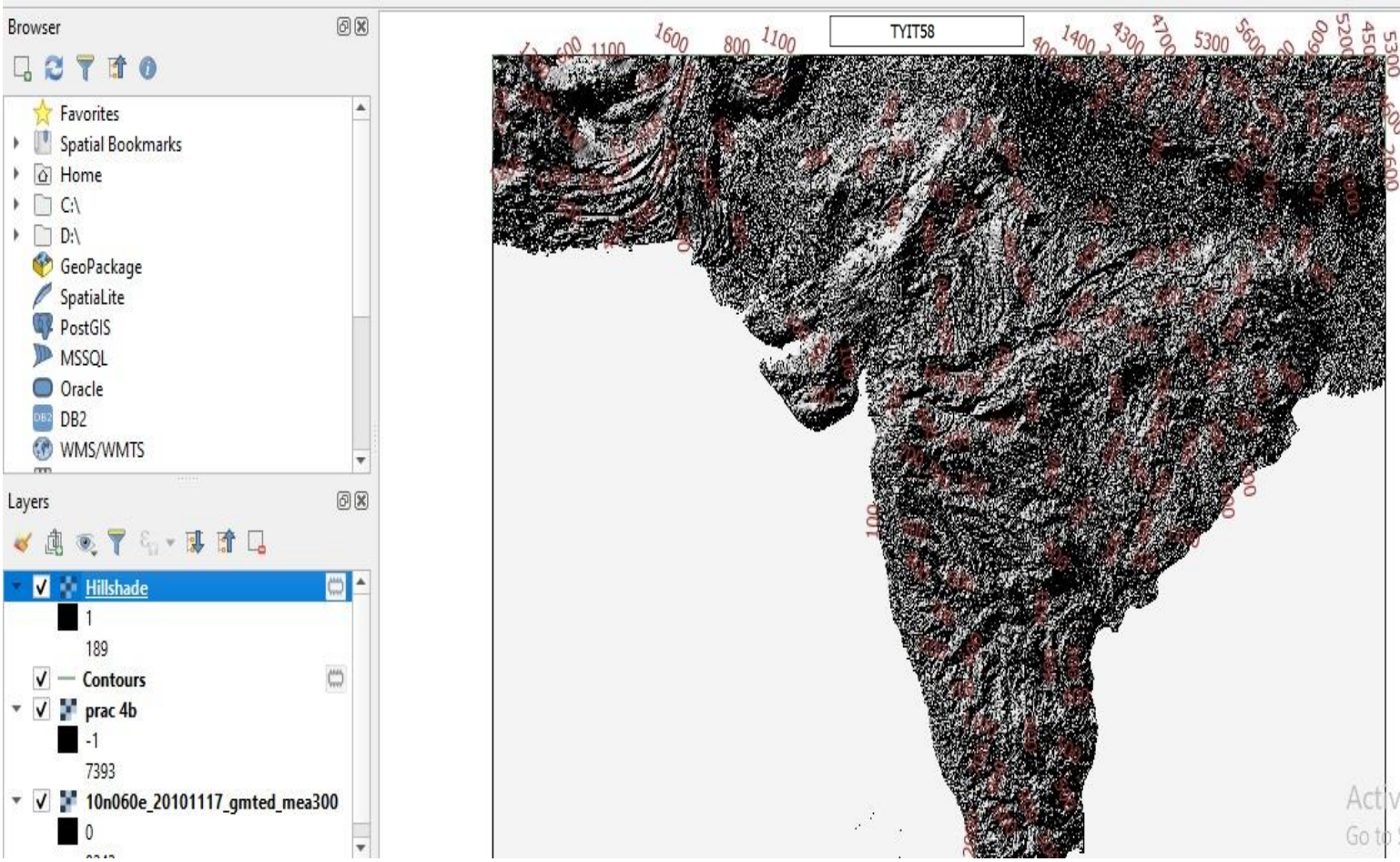

Teacher's Signature