BHAVAN'S COLLEGE AUTONOMOUS, ANDHERI-WEST
PRACTICAL JOURNAL

Class: TYIT **Sem: VI** **Roll No.: TYIT32** **Date: 13-01-2026**

Course Name: Geographic Information System **Page no:**

Practical Number:- 05

Aim : Working with Projections and WMS Data

A Web Map Service (WMS) is a standard protocol developed by the Open Geospatial Consortium in 1999 for serving georeferenced map images over the Internet. These images are typically produced by a map server from data provided by a GIS database

Step 1:

➢ Start a new Project

➢ Layer → Add Layer →Vector Layer ➢ Select "ne_10m_admin_0_countries.shp" Layer from data folder

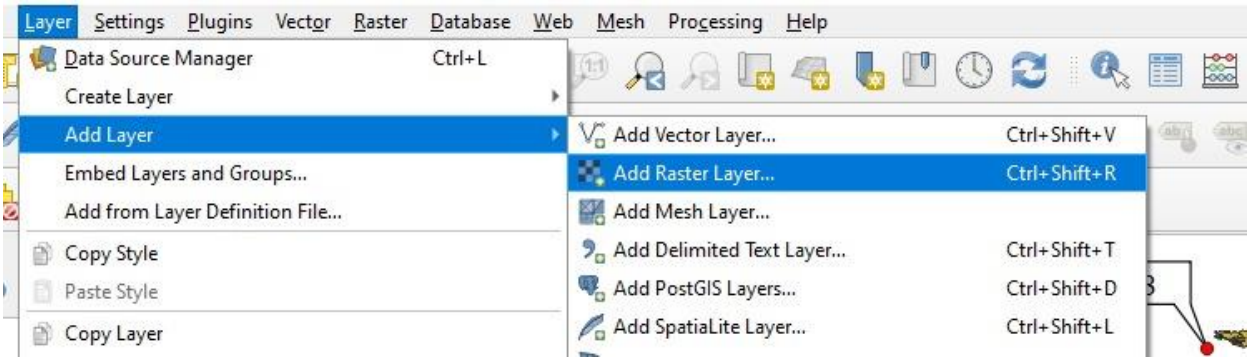

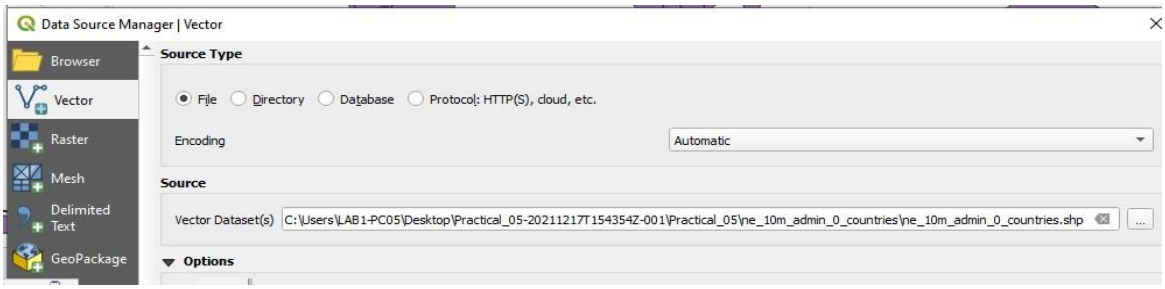

Teacher's Signature

BHAVAN'S COLLEGE AUTONOMOUS, ANDHERI-WEST
PRACTICAL JOURNAL

Class: TYIT **Sem: VI** **Roll No.: TYIT32** **Date: 13-01-2026**

Course Name: Geographic Information System **Page no:**

Practical Number:- 05

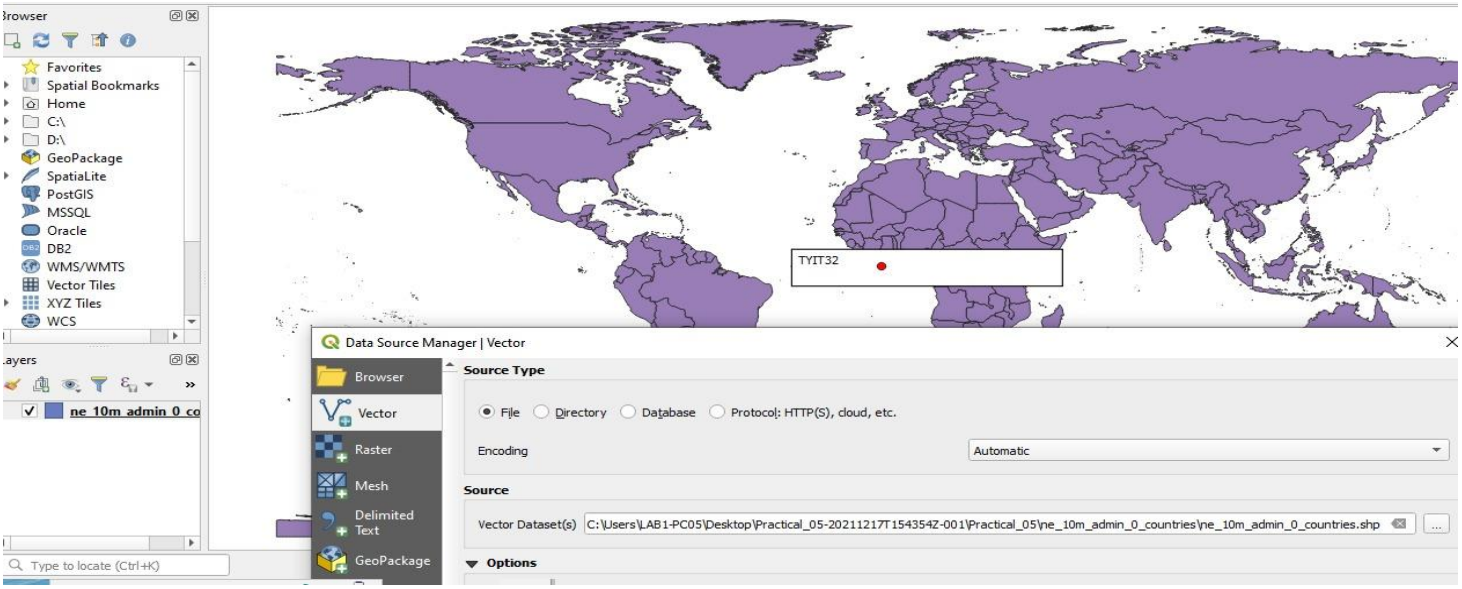

Step 2: Go to Layer → Save As Select format as ESRI Shape File Select folder location and file name Set CRS North_America_Albers_Equal_Area_Conic EPSG: 102008

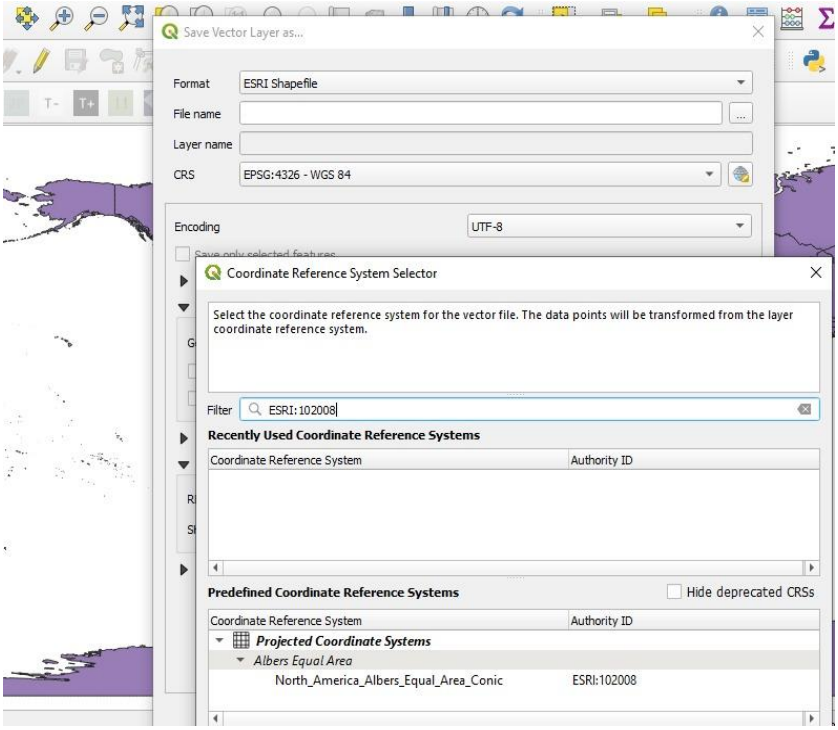

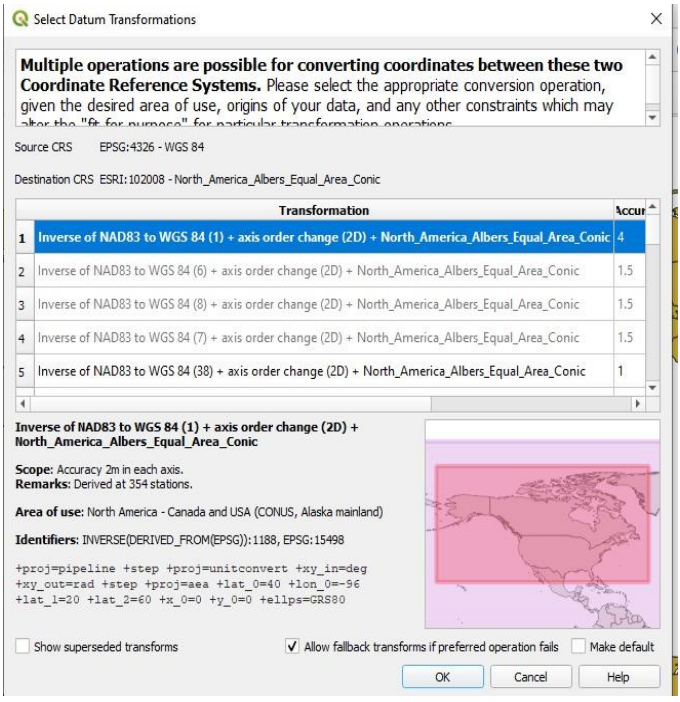

Step 3: Select Layer → Add Layer → Add Raster Layer → Select MiniScale_(standard)_R17.tif from Location

Teacher's Signature

BHAVAN'S COLLEGE AUTONOMOUS, ANDHERI-WEST
PRACTICAL JOURNAL

Class: TYIT **Sem: VI** **Roll No.: TYIT32** **Date: 13-01-2026**

Course Name: Geographic Information System **Page no:**

Practical Number:- 05

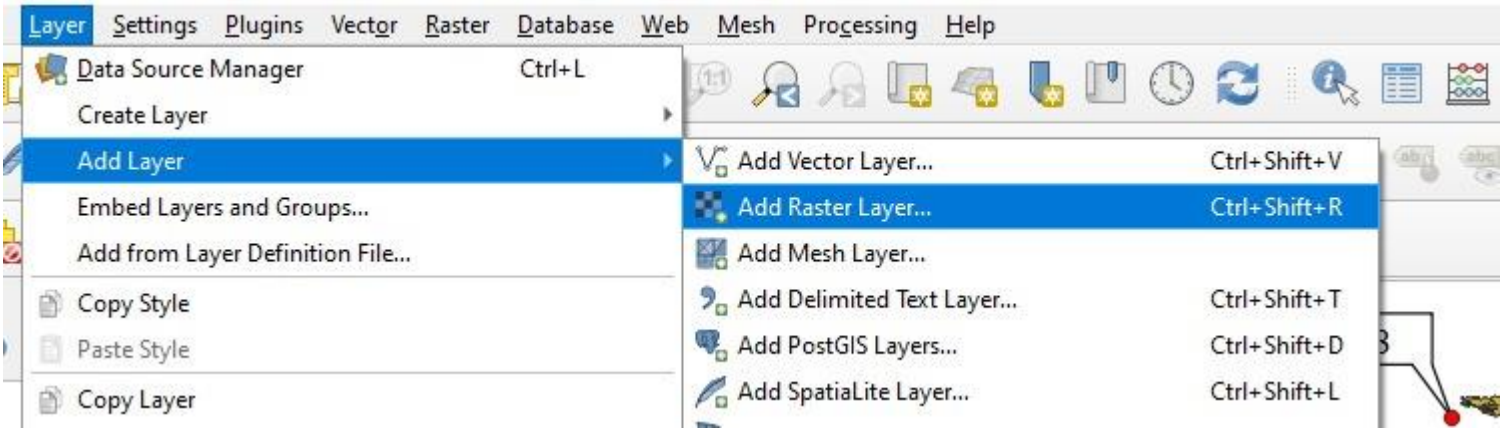

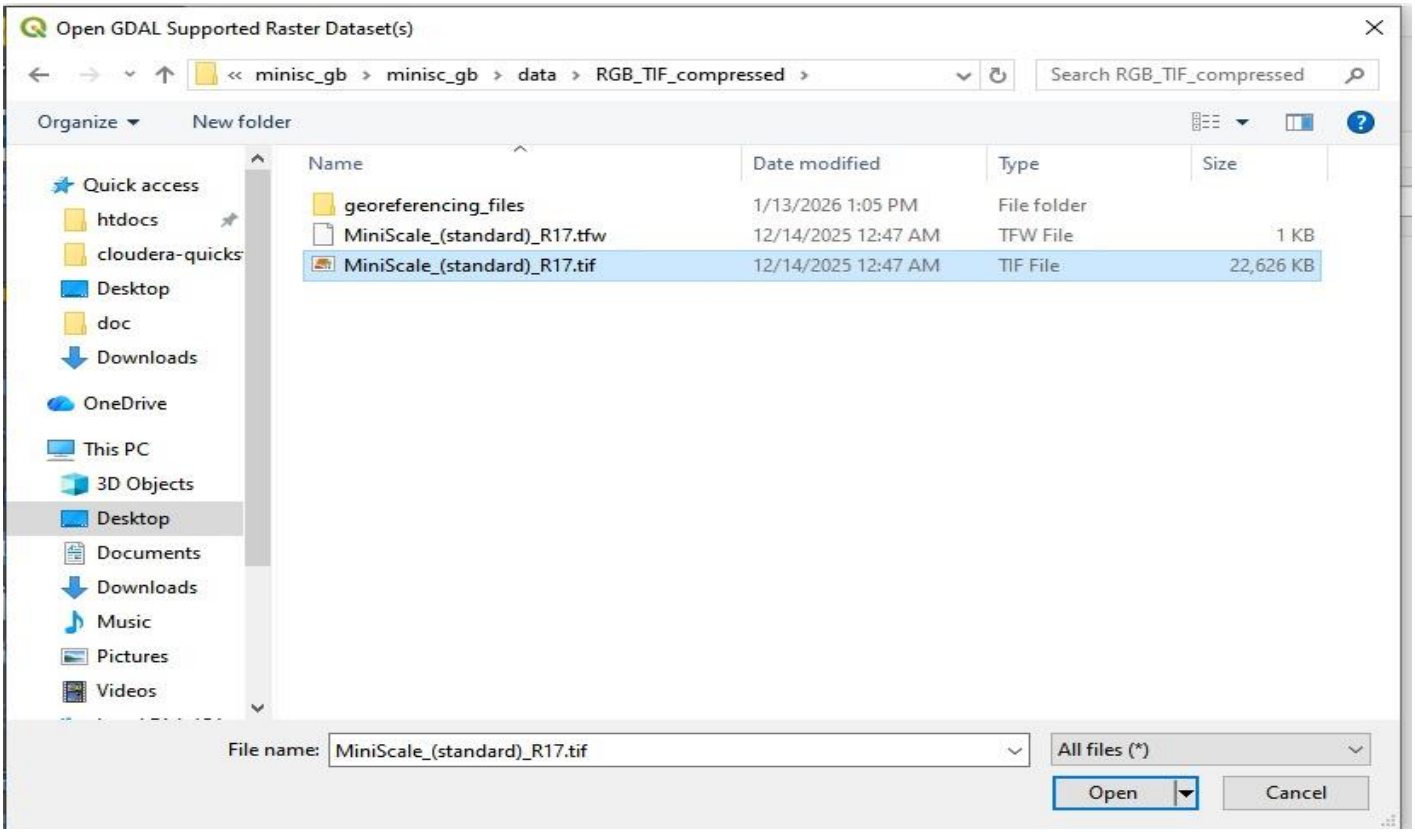

Teacher's Signature

BHAVAN'S COLLEGE AUTONOMOUS, ANDHERI-WEST
PRACTICAL JOURNAL

Class: TYIT **Sem: VI** **Roll No.: TYIT32** **Date: 13-01-2026**

Course Name: Geographic Information System **Page no:**

Practical Number:- 05

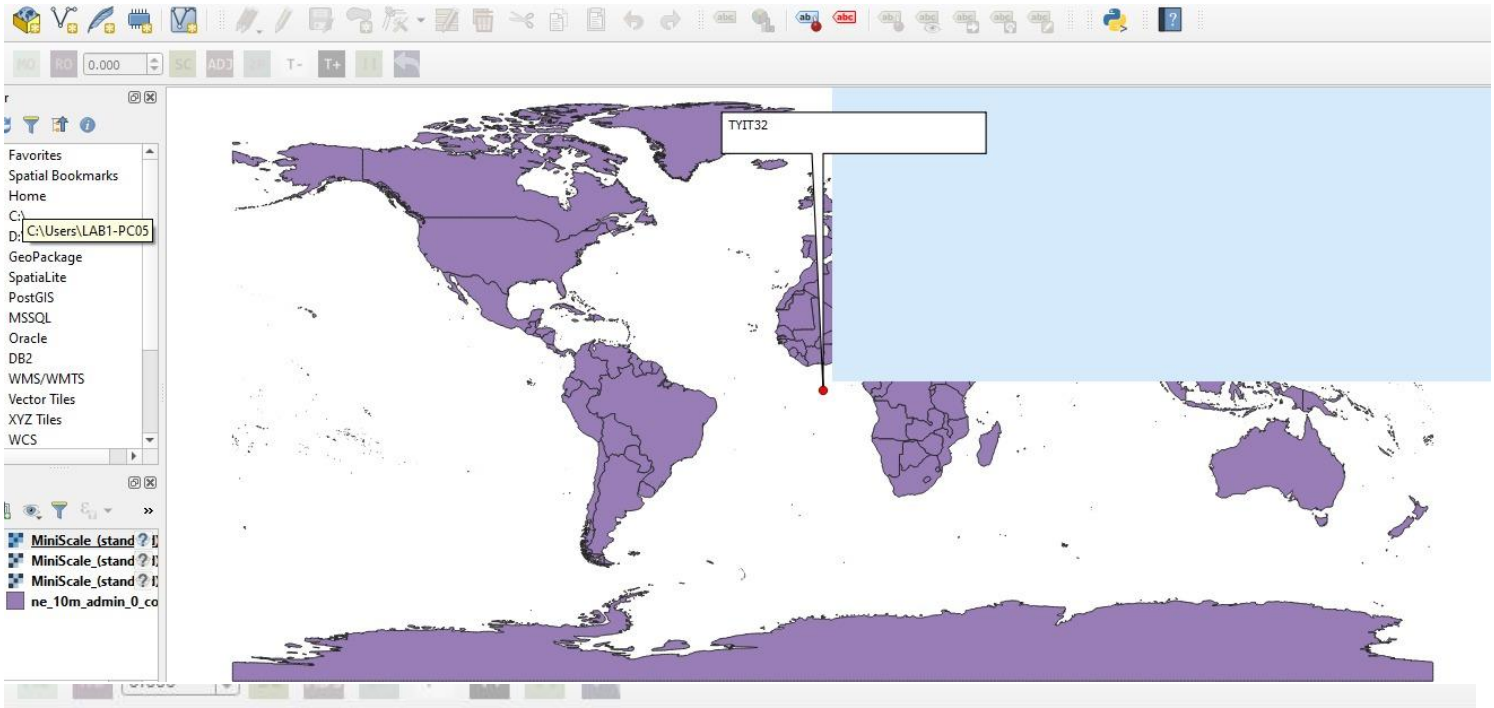

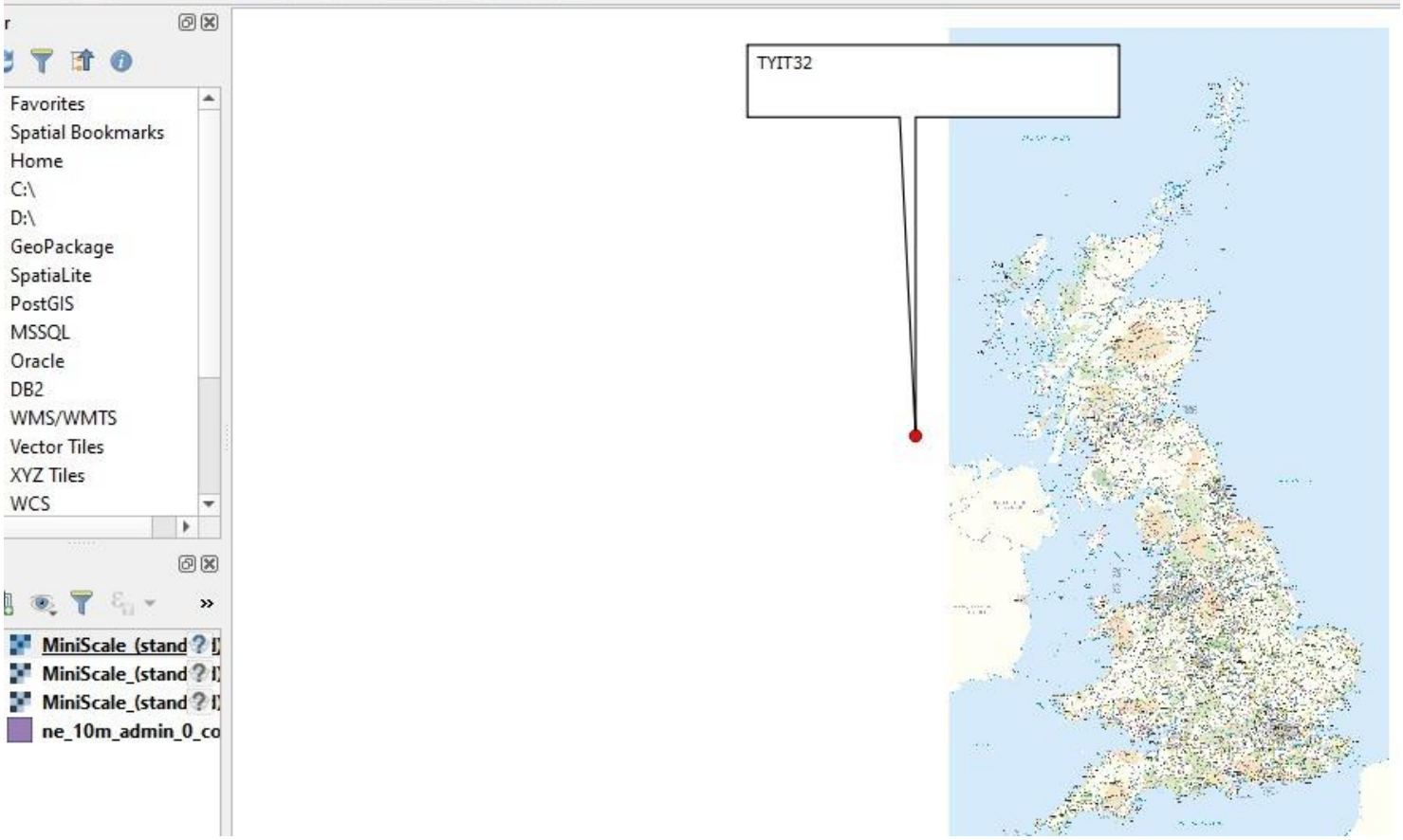

Step 4: Open Layer Properties→CRS → Search bri → select British National Grid EPSG 27700

Teacher's Signature

BHAVAN'S COLLEGE AUTONOMOUS, ANDHERI-WEST
PRACTICAL JOURNAL

Class: TYIT **Sem: VI** **Roll No.: TYIT32** **Date: 13-01-2026**

Course Name: Geographic Information System **Page no:**

Practical Number:- 05

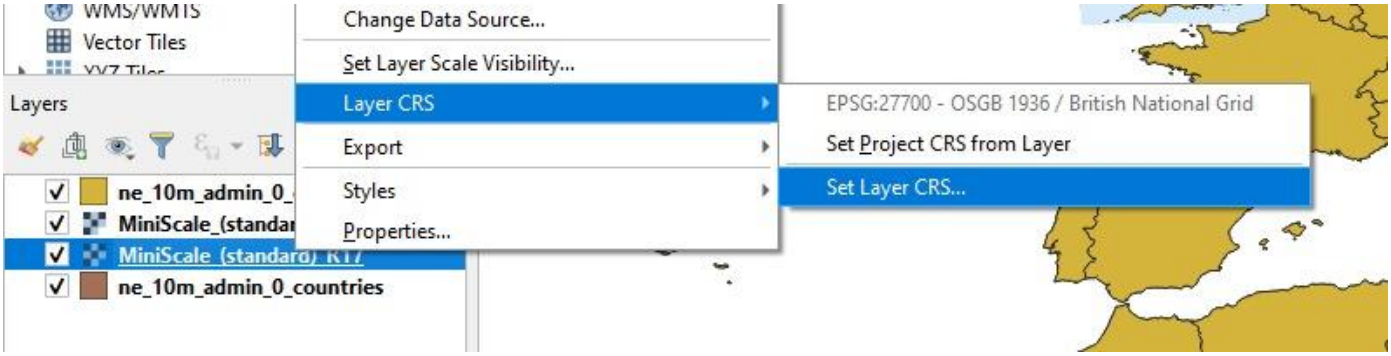

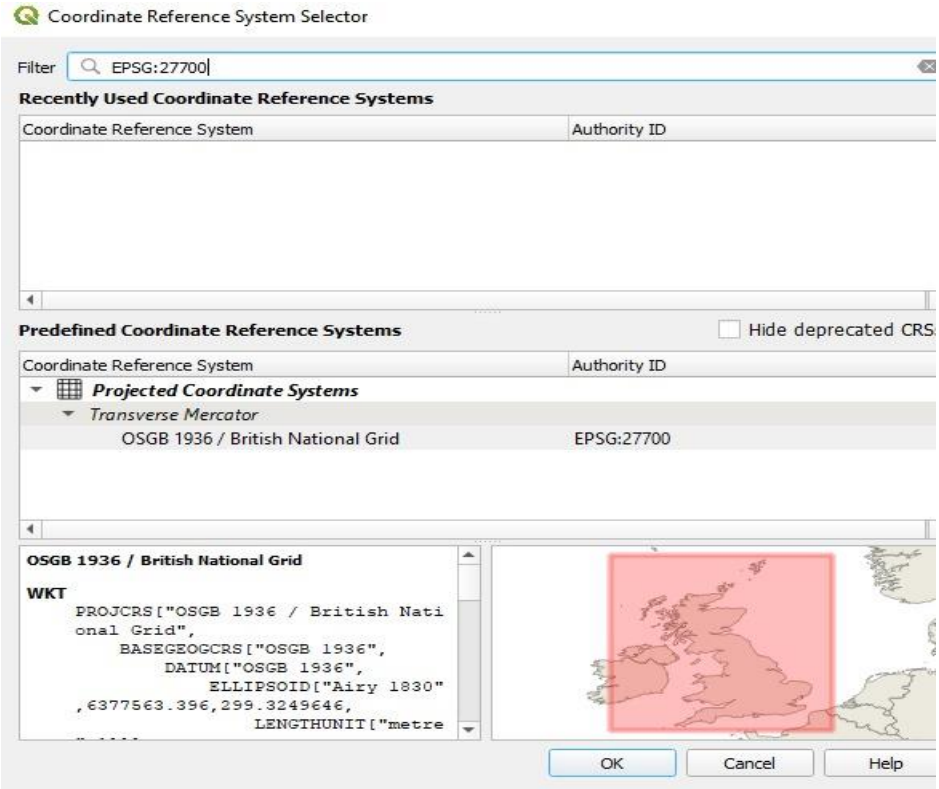

Teacher's Signature

BHAVAN'S COLLEGE AUTONOMOUS, ANDHERI-WEST
PRACTICAL JOURNAL

Class: TYIT **Sem: VI** **Roll No.: TYIT32** **Date: 13-01-2026**

Course Name: Geographic Information System **Page no:**

Practical Number:- 05

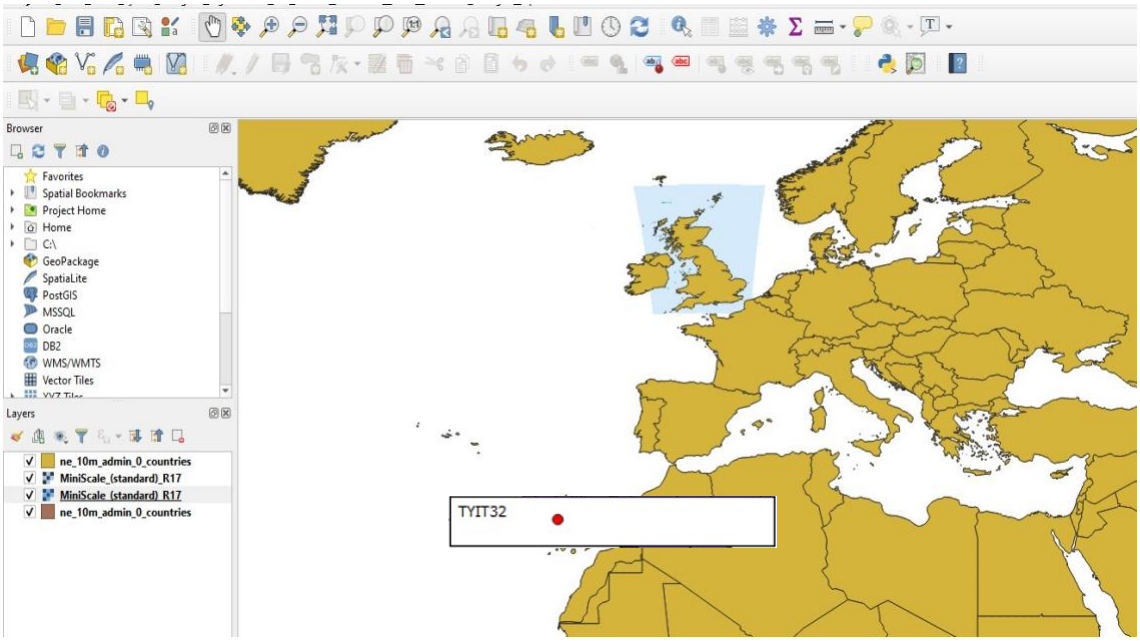

Teacher's Signature